LOVE REPLICATIONS WEEK

CODE CHECK

https://codecheck.org.uk/

How to get your reproducibility certificate with CODECHECK

Love Replications Week 2026
https://forrt.org/LoveReplicationsWeek/

2026-03-03 | Daniel Nüst | doi.org/10.5281/zenodo.18849086

This documented is published
under a CC-BY 4.0 license.

Closed and irreproducible research

Claerbout's claim:

An article about computational science in a scientific publication is not the scholarship itself, it is merely advertising of the scholarship. The actual scholarship is the complete software development environment and the complete set of instructions which generated the figures.

https://doi.org/10.1190/1.1822162
https://doi.org/10.1007/978-1-4612-2544-7_5

CC-BY 3.0, Sebastian Bertalan, Wikimedia Commons



https://www.reddit.com/r/pics/comments/d3zhx/how_to_draw_an_owl/

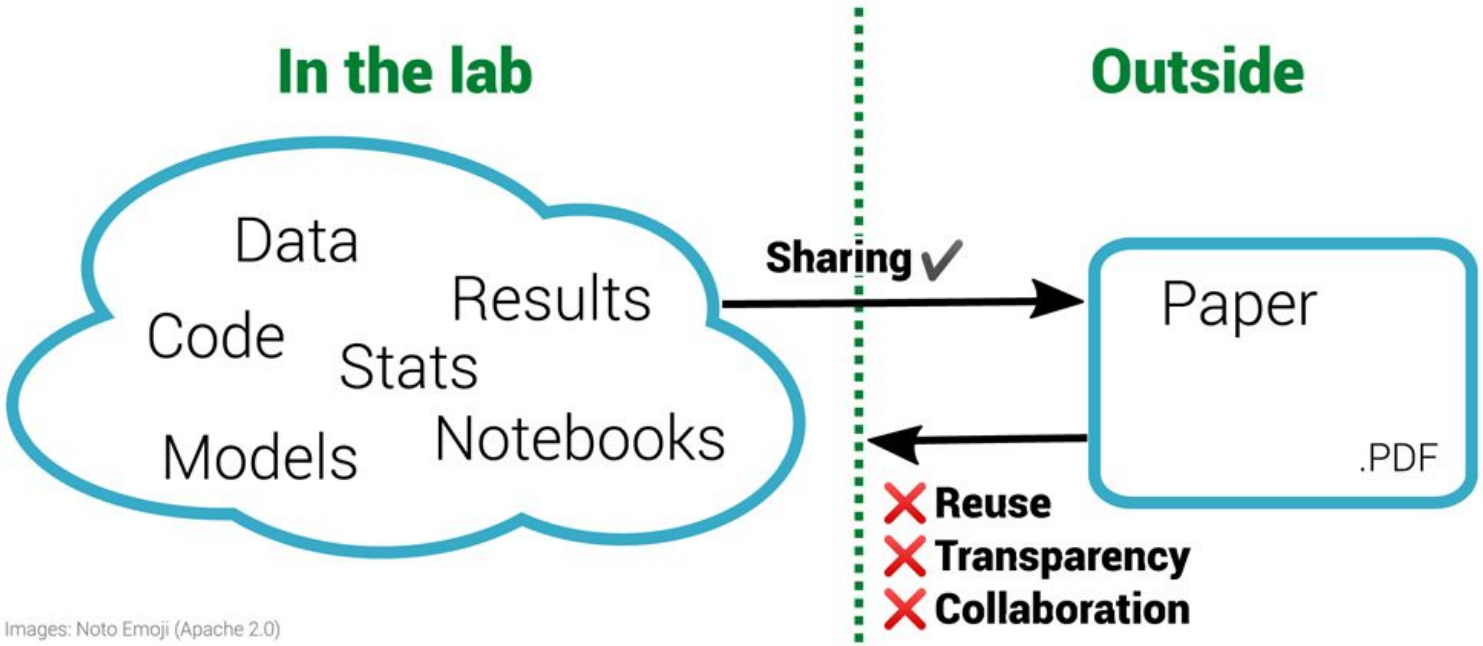

The inverse problem in reproducible research. Figure 1 of https://doi.org/10.12688/f1000research.51738.1

The left half of the diagram shows a diverse range of materials used within a laboratory. These materials are often then condensed for sharing with the outside world via the research paper, a static PDF document. Working backwards from the PDF to the underlying materials is impossible. This prohibits reuse and is not only non-transparent for a specific paper but is also ineffective for science as a whole. By sharing the materials on the left, others outside the lab can enhance this work.

One thing

about reproducible research

Have a README: all else is details.

Show willingness to help, but don't stop publishing because of lacking docs, your code is **good enough**. It is hard to document for someone else, therefore, document for future you, add more **details on demand**.

"Rule" inspired by Greg Wilson's Teching Tech Together (http://teachtogether.tech/en/index.html), Rule 1.

One re-execution of computational workflow by codechecker during scholarly communication, review & publication

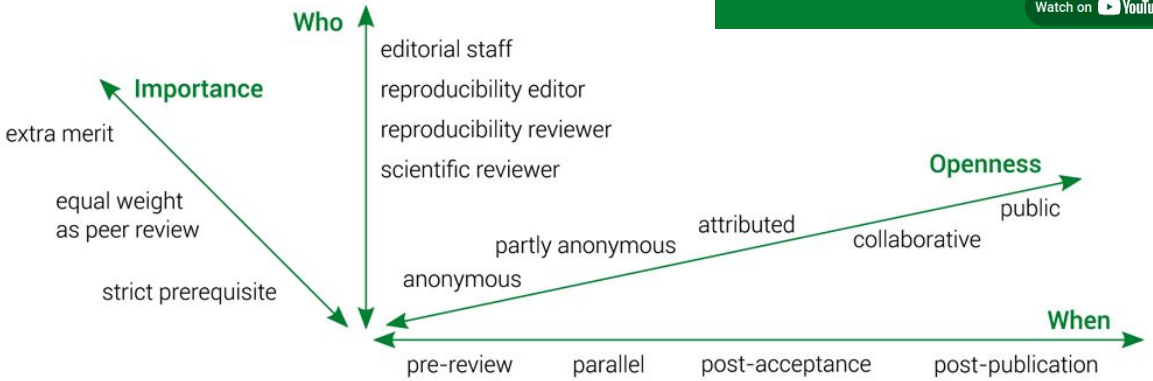

The CODECHECK variations. Figure 1 of https://doi.org/10.12688/f1000research.51738.1

CODE CHECK ✓

https://codecheck.org.uk/

Independent execution of computations underlying research articles.

1. Codecheckers record but don't investigate or fix.
2. Communication between humans is key.
3. Credit is given to codecheckers.
4. Workflows must be auditable.
5. Open by default and transitional by disposition.

CODE WORKS ✓

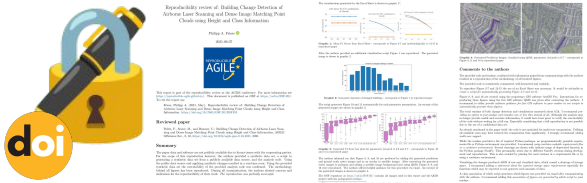

100+ Certificates
https://codecheck.org.uk/register/

CODECHECK Certificate 2022-018

10.5281/zenodo.7084333

Ranicre Silva

September 27, 2022

Table 1: CODECHECK summary

Title	svaRetro and svaNUMT: Modular packages for annotation of retrotransposed transcripts and nuclear integration of mitochondrial DNA in genome sequencing data
Authors	Ruining Dong, Daniel Cameron, Justin Bedo, Anthony T Papenfuss
Reference	https://doi.org/10.46471/gigabyte.70
Summary	Only visualisation steps performed. All created figures match those in the article.
Repository	https://gitlab.com/cdchck/community-codechecks/2022-svaRetro-svaNUMT.git

Table 2: Summary of output files generated

Files	Comment
figure-2b.pdf	Figure 2(b) of the article
figure-3b.pdf	Figure 3(b) of the article
figure-4.pdf	Figure 4 of the article
figure-5.pdf	Figure 5 of the article
figure-6.pdf	Figure 6 of the article

1

Summary

The reproduction of the figures, from ou
R Markdown (`.Rmd`) files. Figure 3 ar
reproduced!

CODECHECKER notes

Data and Code

As a repository was not provided by
`MANIFEST` was created. `Scripts.zip`
supplemented material in Zenodo (Dor

```
$ make download
```

Software Installation

The provided `.Rmd` files requires many
`bioconductor/bioconductor_docker`
by running

```
$ docker compose up dev
```

Packages installation instructions are i

Running the Script

`Figures2-4.Rmd` is the main script an
history for details. To regenerate the fi
as part of the Bioconductor Docker im

Figure 4 uses statistics from `sim_read`

`gnomad.Rmd` is the script that renders F
at the end of the document, see Git his

```
#function from SVEnsemble
wkdir <- getwd()
gnomad.bnd.gr <- suppressWarning

gnomad.rt <- rtDetect(
  filter(gnomad.bnd.gr, FILTER=="
  hg19.genes,
  maxgap = 1000,
  minscore = 0.4
)
```

takes a couple of hours to execute and

```
gnomad.insSite.pass.rmsk <- gnom
  find_overlaps(., rmsk.gr, maxg
  unique() %>%
  as_tibble() %>%
  count(repClass) %>%
  bind_rows(tibble(repClass='non-
```

failed with

```
Error in count(., repClass) : Ar
```

that was resolved by replacing

```
count(repClass) %>%
```

Fi

(a) From pre-pr

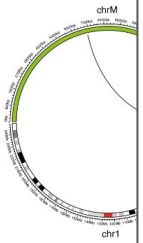

F

(a) From pre-pr

References

Dong, Ruining, Daniel Cameron, Justin Bedo, and Anthony T Papenfuss. 2022. "Data and Scripts for the Manuscript of svaRetro and svaNUMT: Modular Packages for Annotating Retrotransposed Transcripts and Nuclear Integration of Mitochondrial DNA in Genome Sequencing Data." Zenodo. https://doi.org/10.5281/ZENODO.7006177.

Colophon

This document was built with Quarto.

Session Info

```
sessionInfo()
```

```
R version 4.2.1 (2022-06-23)
Platform: x86_64-pc-linux-gnu (64-bit)
Running under: Ubuntu 22.04.1 LTS

Matrix products: default
BLAS:   /usr/lib/x86_64-linux-gnu/blas/libblas.so.3.10.0
LAPACK: /usr/lib/x86_64-linux-gnu/lapack/liblapack.so.3.10.0

locale:
 [1] LC_CTYPE=en_GB.UTF-8       LC_NUMERIC=C
 [3] LC_TIME=en_GB.UTF-8        LC_COLLATE=en_GB.UTF-8
 [5] LC_MONETARY=en_GB.UTF-8    LC_MESSAGES=en_GB.UTF-8
 [7] LC_PAPER=en_GB.UTF-8       LC_NAME=C
 [9] LC_ADDRESS=C               LC_TELEPHONE=C
[11] LC_MEASUREMENT=en_GB.UTF-8 LC_IDENTIFICATION=C

attached base packages:
[1] stats     graphics  grDevices utils     datasets  methods   base

loaded via a namespace (and not attached):
 [1] digest_0.6.29   jsonlite_1.8.0  magrittr_2.0.3  evaluate_0.16
 [5] highr_0.9       rlang_1.0.5     stringi_1.7.8   cli_3.4.0
 [9] rstudioapi_0.14 rmarkdown_2.16  tools_4.2.1     stringr_1.4.1
[13] xfun_0.33       yaml_2.3.5      fastmap_1.1.0   compiler_4.2.1
[17] htmltools_0.5.3 knitr_1.40
```

`Figures2-4.Rmd`'s session info:

```
## R version 4.2.1 (2022-06-23)
## Platform: x86_64-pc-linux-gnu (64-bit)
## Running under: Ubuntu 20.04.4 LTS
##
## Matrix products: default
## BLAS:   /usr/lib/x86_64-linux-gnu/openblas-pthread/libblas.so.3
## LAPACK: /usr/lib/x86_64-linux-gnu/openblas-pthread/liblapack.so.3
##
## locale:
##  [1] LC_CTYPE=en_US.UTF-8       LC_NUMERIC=C
##  [3] LC_TIME=en_US.UTF-8        LC_COLLATE=en_US.UTF-8
##  [5] LC_MONETARY=en_US.UTF-8    LC_MESSAGES=en_US.UTF-8
##  [7] LC_PAPER=en_US.UTF-8       LC_NAME=C
##  [9] LC_ADDRESS=C               LC_TELEPHONE=C
## [11] LC_MEASUREMENT=en_US.UTF-8 LC_IDENTIFICATION=C
```

6

https://doi.org/10.5281/zenodo.7084333

Now how do I get my certificate?

1. Submit to a venue that regularly conducts CODECHECKs > AGILE GIS conference
2. Loop us into a conversation with an editor
3. Open an issue in the **register repository** to get a community check, or better…
4. 🆕 CODECHECK **Buddy Exchange**

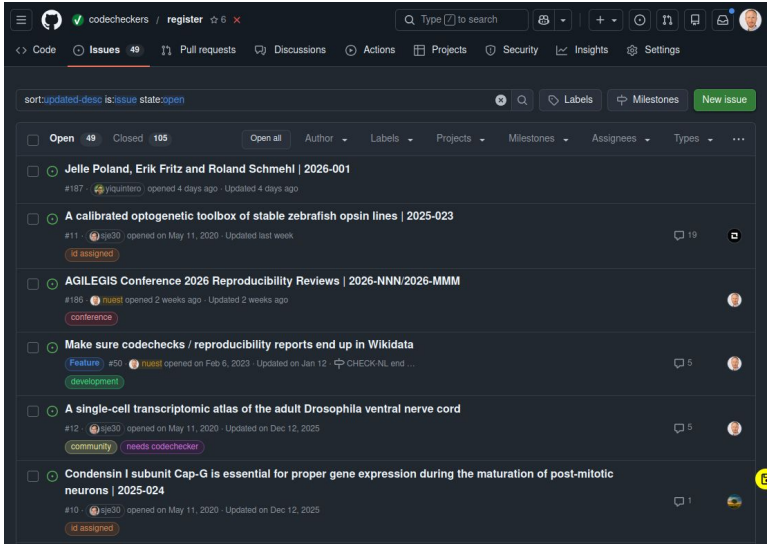

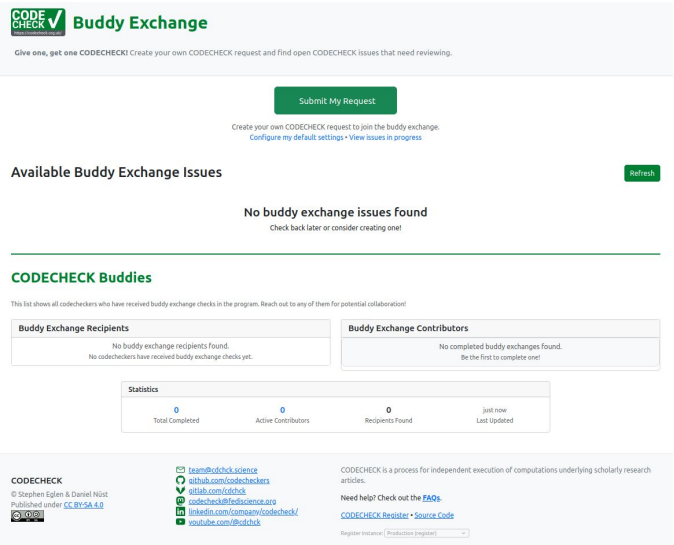

codecheck.org.uk/buddy-exchange
Give one, Get one.

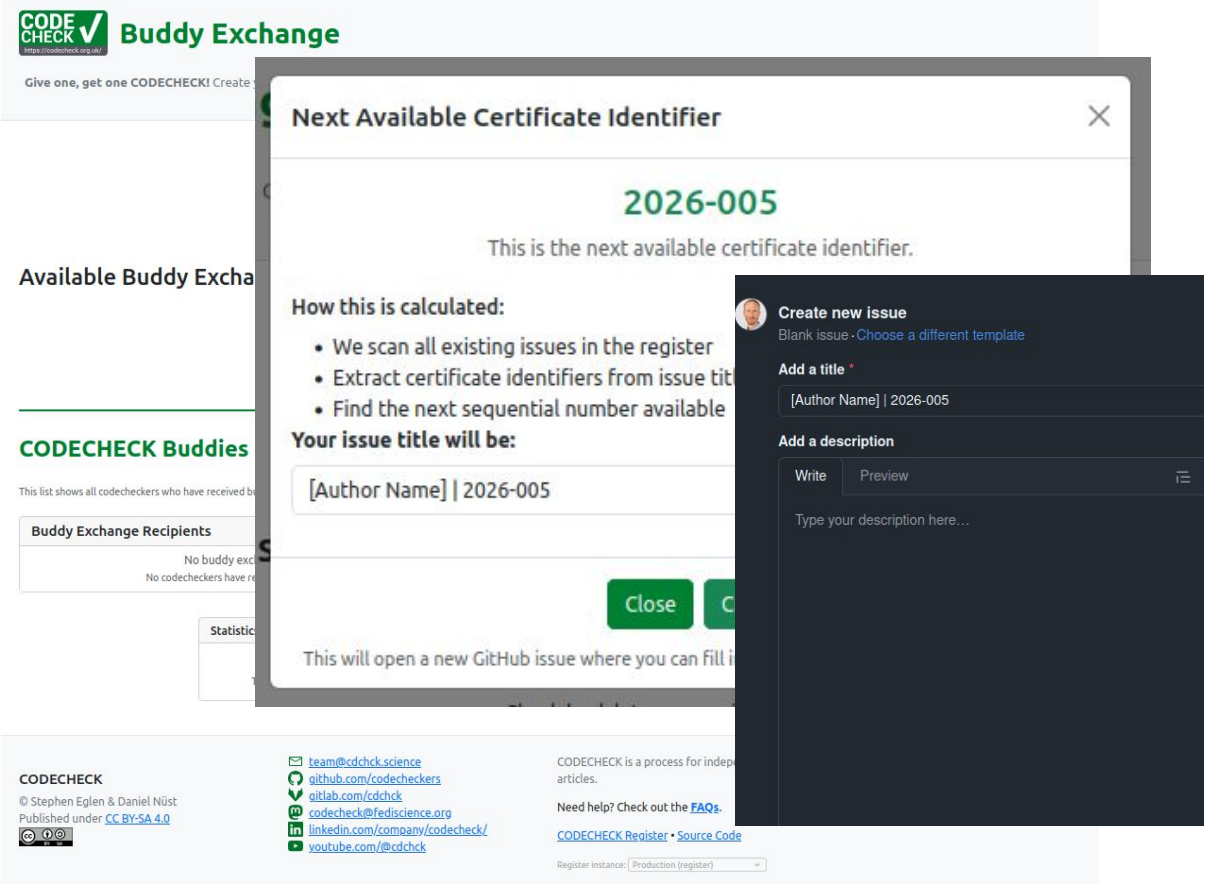

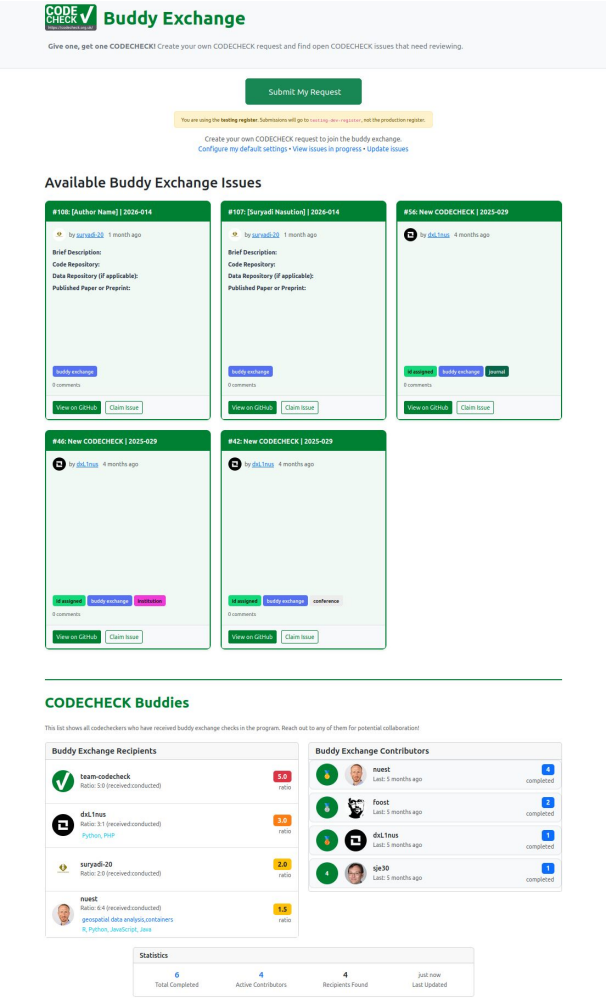

CODECHECK Community Workflow

https://codecheck.org.uk/guide/community-workflow-overview

For authors

Have a README, find a suitable checklist to use, basic metadata in codecheck.yml, licensing information; acknowledgement in manuscript

For codecheckers (short, extended, in-person events)

Handling repos/files, approaching a workspace/workflow, responsibilities, writing the certificate;
it is a **craft**, so **we mentor** better than we write process descriptions!

For editors (me)

CODECHECK Register

CODECHECK Register

Certificate	Report	Paper Title	Venue	Type	Check date
2020-001	doi.org/10.5281/zenodo.3674056	ShinyLearner: A containerized benchmarking tool for machine-learning classification of tabular data.	GigaScience	Journal	2019-02-14
2020-002	doi.org/10.5281/zenodo.3750741	The principal components of natural images	codecheck	Community	2020-04-13
2020-003	doi.org/10.5281/zenodo.3741797	Neural networks and physical systems with emergent collective computational abilities	codecheck	Community	2020-04-06
2020-004	doi.org/10.5281/zenodo.3627371	Neuromilike adaptive elements that can solve difficult learning control problems	codecheck	Community	2020-05-14
2020-005	doi.org/10.5281/zenodo.3959175	[Re] Connectivity reflects coding: a model of voltage-based STDP with homeostasis	codecheck	Community	2020-07-23
2020-006	doi.org/10.5281/zenodo.3948053	[Re] A Generalized Linear Integrate-and-Fire Neural Model Produces Diverse Spiking Behaviours	codecheck	Community	2020-07-16
2020-007	doi.org/10.53962/rsps-9a40	[Re] Spike Timing Dependent Plasticity Finds the Start of Repeating Patterns in Continuous Spike Trains	codecheck	Community	2025-08-19
2020-008	doi.org/10.5281/zenodo.3746024	The effect of non-pharmaceutical interventions on COVID-19 cases, deaths and demand for hospital services in the UK: a modelling study	preprint	Community	2020-04-09
2020-009	doi.org/10.5281/zenodo.3767060	Model of isolation, contact tracing, and physical distancing (Preprint)	preprint	Community	2020-04-26
2020-010	doi.org/10.5281/zenodo.3865491	Report 9: Impact of non-pharmaceutical interventions (NPIs) to reduce COVID-19 mortality and healthcare demand. March 16, 2020.	preprint	Community	2020-05-29
2020-011	doi.org/10.5281/zenodo.3893138	Estimating the effects of non-pharmaceutical interventions on COVID-19 in Europe	in press	Community	2020-06-13
2020-012	doi.org/10.5281/zenodo.3893617	Report 23: State-level tracking of COVID-19 in the United States version 2 (26-05-2020)	preprint	Community	2020-06-14
2020-013	doi.org/10.5281/zenodo.3947958	Rest-activity cycles and melatonin phase angle of circadian entrainment in people without cone-mediated vision	preprint	Community	2020-07-14
2020-014	doi.org/10.5281/zenodo.3967326	Patterned perturbation of inhibition can reveal the dynamical structure of neural processing	codecheck	Community	2020-07-28
2020-015	doi.org/10.5281/zenodo.3978402	A model for focal seizure onset, propagation, evolution, and progression	codecheck	Community	2020-08-04
2020-016	doi.org/10.5281/zenodo.3981253	Opening practice: supporting reproducibility and critical spatial data science	J Geogr Syst	Journal	2020-06-02
2020-017	doi.org/10.5281/zenodo.4003848	Progress in the R ecosystem for representing and handling spatial data	J Geogr Syst	Journal	2020-08-27
2020-018	doi.org/10.17605/OSF.IO/ZTC7M	Integrating cellular automata and discrete-global grid systems: a case study into wildfire modeling	AGILEGIS	Conference	2020-07-13
2020-019	doi.org/10.17605/OSF.IO/SVMT	What to do in the Meantime: A Service Coverage Analysis for Parked Autonomous Vehicles	AGILEGIS	Conference	2020-07-13
2020-020	doi.org/10.17605/OSF.IO/7TWR2	Window Operators for Processing Spatio-Temporal Data Streams on Unmanned Vehicles	AGILEGIS	Conference	2020-07-13
2020-021	doi.org/10.17605/OSF.IO/SUWPJ	Comparing supervised learning algorithms for Spatial Nominal Entity recognition	AGILEGIS	Conference	2020-07-13
2020-022	doi.org/10.17605/OSF.IO/7XRQG	Extracting interrogative intents and concepts from geo-analytic questions.	AGILEGIS	Conference	2020-07-13
2020-023	doi.org/10.17605/OSF.IO/X5SYR	Tracking Hurricane Dorian in GDELT and Twitter	AGILEGIS	Conference	2020-07-13
2020-024	doi.org/10.5281/zenodo.4964880	Driftage: a multi-agent system framework for concept drift detection	GigaScience	Journal	2020-12-07
2020-025	doi.org/10.5281/zenodo.4279275	The application of Local Indicators for Categorical Data (LICD) to explore spatial dependence in archaeological spaces	J Archaeol Sci	Journal	2020-11-19
2021-001	doi.org/10.5281/zenodo.4720843	Causality indices for bivariate time series data: a comparative review of performance	preprint	Community	2021-04-27
2021-002	doi.org/10.17605/osf.io/s4km	Building Change Detection of Airborne Laser Scanning and Dense Image Matching Point Clouds using Height and Class Information	AGILEGIS	Conference	2021-06-10
2021-003	doi.org/10.17605/osf.io/ds92a	Investigating drivers' geospatial abilities in unfamiliar environments	AGILEGIS	Conference	2021-06-10
2021-004	doi.org/10.17605/osf.io/2sc7g	Extraction of linear structures from digital terrain models using deep learning	AGILEGIS	Conference	2021-06-10
2021-005	doi.org/10.17605/osf.io/7fqhm	A Comparative Study of Typing and Speech For Map Metadata Creation	AGILEGIS	Conference	2021-06-10
2021-006	doi.org/10.17605/OSF.IO/HCPMD	A Socially Aware Huff Model for Destination Choice in Nature-based Tourism	AGILEGIS	Conference	2021-06-10
2021-007	doi.org/10.17605/osf.io/sknv9r	Automated Extraction of Labels from Large-Scale Historical Maps	AGILEGIS	Conference	2021-06-10
2021-008	doi.org/10.17605/osf.io/q4dcq	Flood Impact Assessment on Road Network and Healthcare Access at the example of Jakarta, Indonesia	AGILEGIS	Conference	2021-06-10
2021-009	doi.org/10.17605/osf.io/xhqvu	H-TFIDF: What makes areas specific over time in the massive flow of tweets related to the covid pandemic?	AGILEGIS	Conference	2021-06-10
2021-010	doi.org/10.17605/osf.io/9du28	An Approach to Assess the Effect of Currentness of Spatial Data on Routing Quality	AGILEGIS	Conference	2021-06-10
2022-001	doi.org/10.5281/zenodo.6040066	Geographically Weighted Regressions for prioritizing educational planning, policies, and interventions	codecheck	Community	2022-01-19
2022-002	doi.org/10.17605/osf.io/27p6k	Understanding the Imperfection of 3D point Cloud and Semantic Segmentation algorithms for 3D Models of Indoor Environment	AGILEGIS	Conference	2022-07-09
2022-003	doi.org/10.17605/OSF.IO/DTN3	Optimizing Electric Vehicle Charging Schedules Based on Probabilistic Forecast of Individual Mobility	AGILEGIS	Conference	2022-07-09
2022-004	doi.org/10.17605/osf.io/XPG6Y	What are intersections for pedestrian users?	AGILEGIS	Conference	2022-07-09
2022-005	doi.org/10.17605/osf.io/cdfsh	Spatial Disaggregation of Population Subgroups Leveraging Self-Trained Multi-Output Gradient Boosted Regression Trees	AGILEGIS	Conference	2022-07-09
2022-006	doi.org/10.17605/osf.io/WTVPH	Exploratory Analysis and Feature Selection for the Prediction of Nitrogen Dioxide	AGILEGIS	Conference	2022-07-09
2022-007	doi.org/10.17605/OSF.IO/3D5MV	Geoparsing: Solved or Biased? An Evaluation of Geographic Biases in Geoparsing	AGILEGIS	Conference	2022-07-09
2022-008	doi.org/10.17605/OSF.IO/K7NEB	Benchmarking Invasive Alien Species Image Recognition Models for a Citizen Science Based Spatial Distribution Monitoring	AGILEGIS	Conference	2022-07-09
2022-009	doi.org/10.17605/osf.io/9kvna	"Landmark Route": A Comparison to the Shortest Route	AGILEGIS	Conference	2022-07-09
2022-010	doi.org/10.17605/osf.io/8b7mr	Experimental evaluation of using BLE beacon for outdoor positioning in GPS-denied environment	AGILEGIS	Conference	2022-07-09
2022-011	doi.org/10.17605/osf.io/k8tar	Understanding COVID-19 Effects on Mobility: A Community-Engaged Approach	AGILEGIS	Conference	2022-07-09
2022-012	doi.org/10.17605/osf.io/r6pxq	The Impact of Built Environment on Bike Commuting: Utilising Strava Bike Data and Geographically Weighted Models	AGILEGIS	Conference	2022-07-09
2022-013	doi.org/10.17605/osf.io/3g9b8	GeoXTag: Relative Spatial Information Extraction and Tagging of Unstructured Text	AGILEGIS	Conference	2022-07-09
2022-014	doi.org/10.17605/osf.io/6s2gp	A method to produce metadata describing and assessing the quality of spatial landmark datasets in mountain area	AGILEGIS	Conference	2022-07-09
2022-015	doi.org/10.17605/osf.io/mxqcw	Unlocking social network analysis methods for studying human mobility	AGILEGIS	Conference	2022-07-09
2022-016	doi.org/10.17605/OSF.IO/CUFC2	A machine learning based approach for predicting usage efficiency of shared e-scooters using vehicle availability data	AGILEGIS	Conference	2022-07-09
2022-017	doi.org/10.17605/osf.io/wmcsm	Traffic Regulation Recognition using Crowd-Sensed GPS and Map Data: a Hybrid Approach	AGILEGIS	Conference	2022-07-09
2022-018	doi.org/10.5281/zenodo.7064333	snvPetro and snvMUMT: Modular packages for annotation of retrotransposed transcripts and nuclear integration of mitochondrial DNA in genome sequencing data	GigaByte	Journal	2022-09-27
2023-001	doi.org/10.17605/osf.io/c7vc3	Urban Sound Mapping for Wayfinding - A theoretical Approach and an empirical Study	AGILEGIS	Conference	2023-06-13
2023-002	doi.org/10.17605/osf.io/rbqvk	Evaluating and Comparing Airspace Structure Visualisation and Perception on Digital Aeronautical Chart	AGILEGIS	Conference	2023-06-13
2023-003	doi.org/10.17605/osf.io/m5dbhk	Exploring MapSwipe as a Crowdsourcing Tool for (Rapid) Damage Assessment: The Case of the 2021 Haiti Earthquake	AGILEGIS	Conference	2023-06-13
2023-004	doi.org/10.17605/osf.io/2enn7v	Does spatial thinking ability relate to performance when using web-mapping services? A survey with digital natives	AGILEGIS	Conference	2023-06-13
2023-005	doi.org/10.17605/osf.io/27wzp	Advancing Forest Monitoring and Assessment Through Immersive Virtual Reality	AGILEGIS	Conference	2023-06-13
2023-006	doi.org/10.17605/OSF.IO/D2SHF	Semantic complexity of geographic questions - A comparison in terms of conceptual transformations of answers	AGILEGIS	Conference	2023-06-13
2023-007	doi.org/10.17605/osf.io/eu8kw	Extreme heat alerts and impacts across Mozambique 2016 - 2022: gathering evidence from media articles	AGILEGIS	Conference	2023-06-13
2023-008	doi.org/10.17605/osf.io/aagzr	Is it safe to be attractive? Disentangling the influence of stereotype features on the perceived safety and attractiveness of city streets	AGILEGIS	Conference	2023-06-13
2023-009	doi.org/10.17605/osf.io/9kp7u	Analysis of cycling network evolution in OpenStreetMap through a data quality prism	AGILEGIS	Conference	2023-06-13
2023-010	doi.org/10.17605/osf.io/8t3bh	Indoor localisation and location tracking in indoor facilities based on LiDAR point clouds and images of the ceilings	AGILEGIS	Conference	2023-06-13
2023-011	doi.org/10.5281/zenodo.8359199	Does enforcing glenohumeral joint stability matter? A new rapid muscle redundancy solver highlights the importance of non-superficial shoulder muscles	preprint	Community	2023-09-18
2023-012	doi.org/10.5281/zenodo.10213244	An inventory of human light exposure related behavior	preprint	Community	2023-11-26
2024-001	doi.org/10.5281/zenodo.10603246	Regulation of pupil size in natural vision across the human lifespan	preprint	Community	2024-03-15
2024-002	doi.org/10.5281/zenodo.F9WME	Modeling spatiotemporal domestic wastewater variability: Implications for measuring treatment efficiency	codecheck NL	Community	2020-05-21
2024-003	doi.org/10.5281/zenodo.11403956	State-Dependent Dynamic Tube MPC: A Novel Tube MPC Method with a Fuzzy Model of Disturbances	codecheck NL	Community	2024-05-30
2024-004	doi.org/10.5281/zenodo.13364677	Open Science interventions to improve reproducibility and replicability of research: a scoping review preprint	AUMC	Institution	2024-08-01
2024-005	doi.org/10.5281/zenodo.13945051	Sample size estimation for task-related functional MRI studies using Bayesian updating	codecheck	Community	2024-10-15
2024-006	doi.org/10.17605/OSF.IO/YMC3T	Random Data Distribution for Efficient Parallel Point Cloud Processing	AGILEGIS	Conference	2024-05-23
2024-007	doi.org/10.17605/OSF.IO/GVPD9	FreeMapPainttrow: Freehand Gestures for Retrieve Operations in Large-Screen Map Environments	AGILEGIS	Conference	2024-05-23
2024-008	doi.org/10.17605/OSF.IO/3NBJW	Knowledge-Based Identification of Urban Green Spaces: Allotments	AGILEGIS	Conference	2024-05-23
2024-009	doi.org/10.17605/osf.io/CSBYR	Developing a city-specific walkability index through a participatory approach	AGILEGIS	Conference	2024-05-23
2024-010	doi.org/10.17605/osf.io/NBK57	Enhancing toponym identification: Leveraging Topo-BERT and open-source data to differentiate between toponyms and extract spatial relationships	AGILEGIS	Conference	2024-05-27
2024-011	doi.org/10.17605/osf.io/FMGB4	Process Analysis in Humanitarian Voluntary Geographic Information: the case of the HOT Tasking Manager	AGILEGIS	Conference	2024-05-27
2024-012	doi.org/10.17605/osf.io/W42AD	The Impact of Traffic Lights on Modal Split and Route Choice: A Use-case in Vienna	AGILEGIS	Conference	2024-05-30
2024-013	doi.org/10.17605/osf.io/TXGZV	Road Network Mapping from Multispectral Satellite Imagery: Leveraging Deep Learning and Spectral Bands	AGILEGIS	Conference	2024-05-31
2024-014	doi.org/10.17605/OSF.IO/sprt5	CY-Bench : A comprehensive benchmark dataset for sub-national crop yield forecasting	codecheck NL	Community	2024-09-26
2024-015	doi.org/10.17605/OSF.IO/nwbuq	Landscape Character Assessment - Nigeria	codecheck NL	Community	2024-09-26
2024-016	doi.org/10.17605/OSF.IO/4NGYC	Integrating agent-based disease, mobility, and wastewater models: Dealing with differences in spatiotemporal resolutions	codecheck NL	Community	2024-09-26
2024-017	doi.org/10.5281/zenodo.14211707	Determination of a diffusion coefficient function for long rooms using a least square optimization approach	codecheck NL	Community	2024-11-22
2024-018	doi.org/10.5281/zenodo.14235113	Power analysis for personal light exposure measurements and interventions	codecheck NL	Community	2024-11-28
2024-019	doi.org/10.5281/zenodo.14279041	Quality in Question: Assessing the accuracy of four heart rate wearables and the implications for psychophysiological research.	codecheck NL	Community	2024-12-04
2024-020	doi.org/10.5281/zenodo.14278912	Describing the scale and composition of calls for police service: a replication and extension of open data	codecheck NL	Community	2024-11-28
2024-021	doi.org/10.5281/zenodo.14261193	Using Consumer Wearables to Measure Physical Activity of Nursing Home Residents with Dementia	codecheck NL	Community	2024-11-28
2024-022	doi.org/10.5281/zenodo.14273316	Simulating room transfer functions between transducers mounted on audio devices using a modified image source method	codecheck NL	Community	2024-12-05
2024-023	doi.org/10.5281/zenodo.14900193	Influence of the cochlear partition's flexibility on the micro mechanisms in the inner ear	codecheck NL	Community	2024-11-08
2024-024	doi.org/10.5281/zenodo.14576035	Evaluating individualized treatment effect predictions: A model-based perspective on discrimination and calibration assessment	AUMC	Institution	2024-12-16
2024-025	doi.org/10.5281/zenodo.15023714	Determination of a diffusion coefficient function for long rooms using a least square optimization approach	codecheck NL	Community	2024-11-08
2025-001	doi.org/10.5281/zenodo.15389126	Multiproxy analysis exploring	codecheck	Community	2025-02-14
2025-004	doi.org/10.5281/zenodo.15310765	Computationally Efficient Conical 1kHz Antenna Design: A Theoretical Design Approach	TU Delft DCC	Institution	2025-04-08
2025-005	doi.org/10.5281/zenodo.15323262	Verification Report of Zhao et al. (2023): Effect of Acceptance and Commitment Therapy for depressive disorders: a meta-analysis'	Lifecycle Journal	Journal	2025-05-15
2025-006	doi.org/10.5281/zenodo.15520471	Emergence of novel SARS-CoV-2 variants in the Netherlands	TU Delft DCC	Institution	2025-05-01
2025-007	doi.org/10.5281/zenodo.15603144	Wind Tunnel Load Measurements of a Leading-Edge Inflatable Kite Rigid Scale Model	TU Delft DCC	Institution	2025-05-26
2025-008	doi.org/10.53962/wxh7-8yjd	Measuring Landmark Salience in Rural Areas: A Comparative Study of Two Models	AGILEGIS	Conference	2025-06-06
2025-009	doi.org/10.17605/OSF.IO/gvZx4	Mobility Vitality in Active and Micro-Mobility Modes: Measuring Urban Vitality Through Spatiotemporal Similarity	AGILEGIS	Conference	2025-06-13
2025-010	doi.org/10.17605/OSF.IO/gvZx4	3D Land Use Planning: Making Future Cities Measurable with Ontology-Driven Representations of Planning Regulations	AGILEGIS	Conference	2025-03-23
2025-011	doi.org/10.17605/OSF.IO/GTt8W	An Efficient System for Automatic Map Storytelling: A Case Study on Historical Maps	AGILEGIS	Conference	2025-06-12
2025-012	doi.org/10.17605/OSF.IO/t96ta8	Mining Meaningful Facets in Spatial Information Retrieval with Spatial Relevance Feedback	AGILEGIS	Conference	2025-06-12
2025-013	doi.org/10.17605/OSF.IO/BGY83	Exploring Urban Place Function through User-Generated Textual Content	AGILEGIS	Conference	2025-06-12
2025-014	doi.org/10.17605/OSF.IO/st9ta	Beyond Walking and Biking: Expanding the 15-Minute City Area through Public Transport	AGILEGIS	Conference	2025-04-03
2025-015	doi.org/10.17605/OSF.IO/CHX28	Accessibility for pedestrians under heat stress - the example of Heidelberg, Germany	AGILEGIS	Conference	2025-05-06
2025-016	doi.org/10.17605/OSF.IO/zJJT4	Changes in Road Centrality and Hospital Access Redundancy: Impacts of the 2024 Flood in the Metropolitan Core of Porto Alegre, Brazil	AGILEGIS	Conference	2025-06-06
2025-017	doi.org/10.53962/wg8s-cagt	How close is "close"? An analysis of the spatial characteristics of perceived proximity using Large Language Models	AGILEGIS	Conference	2025-06-06
2025-018	doi.org/10.5281/zenodo.15630442	Scalable control synthesis for stochastic systems via structural MDP abstractions	TU Delft DCC	Institution	2025-05-28
2025-019	doi.org/10.5281/zenodo.15771677	Fuzzy-Logic-based model predictive control: A paradigm integrating optimal and common-sense decision making	TU Delft DCC	Institution	2025-06-11
2025-020	doi.org/10.5281/zenodo.15762107	Exploring Categorical Colors	codecheck	Community	2025-06-28
2025-021	doi.org/10.528			[illegible]tution	2025-07-30
2025-022	doi.org/10.528			[illegible]tution	2025-08-04
2025-025	doi.org/10.528			[illegible]tution	2025-01-29
2025-027	doi.org/10.528			[illegible]rnal	2025-09-04
2025-028	doi.org/10.528			[illegible]rnal	2025-11-04

Your work here

CSV source | searchable CSV | JSON | Markdown

https://codecheck.org.uk/ | codecheckers | Zenodo Community

© team@codecheck.science | Published under CC BY-SA 4.0

DOI 10.5281/zenodo.4553767

CODECHECK is a process for independent execution of computations underlying scholarly research articles.

Built: 2026-02-20 00:29:44 CET | codecheck v0.25.0 | register 31ddc7a

https://codecheck.org.uk/register/

Currently at CODECHECK

AGILE Reproducibility Committee 2026 just kicked of (17 checks started..)

CHECK-PUB - https://codecheck.org.uk/pub/

Open Journal Systems (OJS) Plugin to streamline CODECHECK integration: collect metadata, create register entries, display certificate info;

Community CODECHECKs & **volunteer list**

Conversations on introducing and running reproducibility reviews
E.g., **IPIN Conference 2026**

👷 Updated Jupyter certificate template, CODECHECKs in Zotero and Wikidata, register improvements, ...

Thanks!

What are your questions?